গবেষণা, পরীক্ষণ ও কনসালটেনসি কেন্দ্র
পুর ও পরিবেশ কৌশল বিভাগ
শাহজালাল বিজ্ঞান ও প্রযুক্তি বিশ্ববিদ্যালয়
সিলেট-৩১১৪, বাংলাদেশ।
যোগাযোগঃ +৮৮ ০১৩১৮ ২১০ ২৮৬/২৮৭/২৮৮/২৮৯/২৯০
Website: www.crtc-cee-sust.com

Center for Research, Testing and Consultancy
Department of Civil and Environmental Engineering
Shahjalal University of Science and Technology
Sylhet-3114, Bangladesh.
Contact: +88 01318 210 286/ 287/ 288/ 289/ 290
Email: crtc-cee@sust.edu

Ref. no: CRTC/CEE/G20220321/S-55

SUB-SOIL INVESTIGATION REPORT

FOR THE PROPOSED
FOUR STORIED BUILDING

AT BHATERA DARUS SUNNAH HIFJUL QUARAN AND ETIMKHANA
KULAURA, MOULVIBAZAR.
DAG-1202, 1553, 1555, 1557, KHA-363, J.L-20, MOUJA- BABURGUL.

CLIENT

BHATERA DARUS SUNNAH HIFJUL QUARAN AND ETIMKHANA

Verification Code: qWU73d9d
Verify report at: crtc-cee-sust.com

CONDUCTED BY

CENTER FOR RESEARCH TESTING & CONSULTANCY
DEPARTMENT OF CIVIL & ENVIRONMENTAL ENGINEERING
SHAHJALAL UNIVERSITY OF SCIENCE & TECHNOLOGY, SYLHET

SAMPLE COLLECTED BY

SURMA SOIL INVESTIGATOR
Tarapur Road, Purbo Pathantula, Sylhet.
Mob: 01712376821

Introduction

A reasonably accurate conception about the sub-soil parameters of any project site is an essential prerequisite for proper planning and designing the foundation of the structure so that the same after its construction would remain safe and serviceable. A detailed study on the sub-surface elements in this regard would necessary to select proper type of foundation.

Objectives

The purpose of sub-soil investigation program is to obtain the following information

1. To classify the formation of soil layers
2. To estimate the safe bearing capacities of the foundation at different soil layers
3. To suggest the safe and appropriate type of foundations.

Scope of work

Centre for research, testing and consultancy (CRTC), Department of Civil and Environmental Engineering, Shahjalal University of Science & Technology (SUST), Sylhet; execute only the laboratory tests and other computational works with the supplied disturbed and/or undisturbed samples to determine the geotechnical properties of the soil.

Table – 1: Items of the supplied samples

No	Name	Bore hole no	Depth	Quantities
01	Disturbed sample	01	0-35 ft	07
02	Disturbed sample	02	0-35 ft	07
03	Disturbed sample	03	0-40ft	08

Laboratory Classifications

The disturbed soil samples, supplied by the client were thoroughly examined and classified roughly (color and type) and noted in accordance with bore hole (BH) and depth (Please see enclosed Tables).

Laboratory Works & Analysis

In addition to visual examination of the sample, Bearing Capacity of soil samples including skin friction & end bearing were calculated.

Bearing capacity for shallow foundation

The N value gives useful information with regards to consistency of cohesive soil and relative density of cohesion less soil. These relationships are given in the following Tables for cohesive and cohesion less soil, respectively.

Table 2: Relation of N-value with the Consistency and the Unconfined Compressive Strength of Cohesive Soils (after Bowles 1997)

N-values	Consistency	Unconfined Compressive Strength (q_u)	
		tsf	kPa
0-2	Very soft	0 to 0.25	0 to 25
3-5	Soft	0.25 to 0.50	25 to 50
6-9	Medium	0.50 to 1	50 to 100
10-16	Stiff	1 to 2	100 to 200
17-30	Very stiff	2 to 4	200 to 400
>30	Hard	>4	>400

Table 3: N and ϕ Relation to Relative Density for Fine Sand (after Bowles 1997)

N values	Compactness	Relative Density, Dr %	ϕ (degree)	Unit Weight (pcf)
1 – 2	Very Loose	0 – 15	26 – 28	70 – 100
3 – 6	Loose	15 – 35	28 – 30	90 – 115
7 – 15	Medium	35 – 65	30 – 34	110 – 130
16 – 30	Dense	65 – 85	33 – 38	110 – 140
>30	Very Dense	>85	>50	130 – 150

Table 4: N and ϕ Relation to Relative Density for Medium Sand (after Bowles 1997)

N values	Compactness	Relative Density, Dr %	ϕ (degree)	Unit Weight (pcf)
2 – 3	Very Loose	0 – 15	27 – 28	70 – 100
4 – 7	Loose	15 – 35	30 – 32	90 – 115
8 – 20	Medium	35 – 65	32 – 36	110 – 130
21 – 40	Dense	65 – 85	36 – 42	110 – 140

Table 5: N and ϕ Relation to Relative Density for Coarse Sand (after Bowles 1997)

N values	Compactness	Relative Density, Dr %	ϕ (degree)	Unit Weight (pcf)
3 – 6	Very Loose	0 – 15	28 – 30	70 – 100
5 – 9	Loose	15 – 35	30 – 34	90 – 115
10 – 25	Medium	35 – 65	33 – 40	110 – 130
26 – 40	Dense	65 – 85	40 – 50	110 – 140
>40	Very Dense	>85	>50	130 – 150

<u>Bearing capacity for deep foundation</u>

Foundations, preferably piles are considered to transmit heavy load from superstructure to deep and hard strata. As the formation of soil strata consists of cohesive and non-cohesive type, the evaluation criteria for the determination of skin friction and the end bearing capacities of piles also vary. Details of the evaluation are provided in the following sub-headings.

Table 6: Formula Used to Determine Bearing Capacity of Soil

Shallow Foundation	
For Cohesive Soil	
$q_a = q_u + \gamma \frac{D}{3}$ $q_a = q_u$(Common Practice)	Where, q_a=Allowable bearing capacity, q_u= Unconfined Compressive Strength, γ= Unit Weight of soil, D= Depth of footing
For Cohesion less Soil	
$q_{ult} = 30N$; $q_a = q_{ult}/FS$	q_{ult}= Ultimate bearing capacity in kPa, N = SPT Number, FS= Factor of Safety
Source: Bowles, J. E., "Physical and Geotechnical Properties of Soils", 2nd Edition	
Deep Foundation	
For Cohesive Soil	
$f_{su} = \alpha C_u$; $q_{pu} = N_c C_u$	α = Adhesion factor, f_{su} = Ultimate skin friction, C_u = Undrained Shear Strength, q_{pu} = Ultimate end bearing of pile, N_c = Bearing capacity factor for deep foundation=9
For Cohesion less Soil	
$f_{su} = N/50\ tsf$; $q_{pu} = 4N\ tsf$	f_{su} = Ultimate skin friction, q_{pu} = Ultimate end bearing of pile, N = SPT Number
Source: Rajapakse RA (2008), "Geotechnical Engineering Calculations and Rules of Thumb"	

Based on the above formula, the important parameters for foundation design have been determined and are given in **Table 7**, **Table 8, Table 9, Table 10 and Table 11** respectively.

Table 7: The allowable bearing capacity for shallow foundation in Tsf (FS=2.5)

Bore Hole No.	**Depth**	**Design N**	**Clay**						**Sand**
			Continuous			**Square(Isolated)**			
	(ft)	**-**	**D/B=0.25**	**D/B=0.5**	**D/B=1**	**D/B=0.25**	**D/B=0.5**	**D/B=1**	
BH01	**2.5-5.0**	**15**	1.717	1.806	1.968	2.028	2.190	2.383	1.850
	5.0-10	**10**	1.148	1.207	1.316	1.356	1.465	1.593	1.237
BH02	**2.5-5.0**	**7**	0.858	0.903	0.984	1.014	1.095	1.191	0.925
	5.0-10	**5**	0.620	0.652	0.711	0.732	0.791	0.861	0.668
BH03	**2.5-5.0**	**8**	0.951	1.000	1.091	1.123	1.214	1.320	1.025
	5.0-10	**6**	0.720	0.757	0.826	0.850	0.919	0.999	0.776
BH04	**2.5-5.0**	**0**	-	-	-	-	-	-	-
	5.0-10	**0**	-	-	-	-	-	-	-
BH05	**2.5-5.0**	**0**	-	-	-	-	-	-	-
	5.0-10	**0**	-	-	-	-	-	-	-
BH06	**2.5-5.0**	**0**	-	-	-	-	-	-	-
	5.0-10	**0**	-	-	-	-	-	-	-
BH07	**2.5-5.0**	**0**	-	-	-	-	-	-	-
	5.0-10	**0**	-	-	-	-	-	-	-
BH08	**2.5-5.0**	**0**	-	-	-	-	-	-	-
	5.0-10	**0**	-	-	-	-	-	-	-
BH09	**2.5-5.0**	**0**	-	-	-	-	-	-	-
	5.0-10	**0**	-	-	-	-	-	-	-
BH10	**2.5-5.0**	**0**	-	-	-	-	-	-	-
	5.0-10	**0**	-	-	-	-	-	-	-

Table 8: The allowable skin friction for Precast driven piles in Tsf (FS=2.5)

Depth	Bore Hole									
ft	BH01	BH02	BH03	BH04	BH05	BH06	BH07	BH08	BH09	BH10
5	0.144	0.152	0.104	-	-	-	-	-	-	-
10	0.184	0.118	0.080	-	-	-	-	-	-	-
15	0.118	0.096	0.096	-	-	-	-	-	-	-
20	0.074	0.156	0.118	-	-	-	-	-	-	-
25	0.216	0.224	0.138	-	-	-	-	-	-	-
30	0.232	0.232	0.144	-	-	-	-	-	-	-
35	0.216	0.208	0.184	-	-	-	-	-	-	-
40	-	-	0.192	-	-	-	-	-	-	-
45	-	-	-	-	-	-	-	-	-	-
50	-	-	-	-	-	-	-	-	-	-
55	-	-	-	-	-	-	-	-	-	-
60	-	-	-	-	-	-	-	-	-	-
65	-	-	-	-	-	-	-	-	-	-
70	-	-	-	-	-	-	-	-	-	-
75	-	-	-	-	-	-	-	-	-	-
80	-	-	-	-	-	-	-	-	-	-
85	-	-	-	-	-	-	-	-	-	-
90	-	-	-	-	-	-	-	-	-	-
95	-	-	-	-	-	-	-	-	-	-
100	-	-	-	-	-	-	-	-	-	-

Table 9: The allowable end bearing for Precast driven piles in Tsf (FS=2.5)

Depth	Bore Hole									
ft	BH01	BH02	BH03	BH04	BH05	BH06	BH07	BH08	BH09	BH10
5	28.800	30.400	20.800	-	-	-	-	-	-	-
10	36.800	1.125	16.000	-	-	-	-	-	-	-
15	1.125	0.900	0.900	-	-	-	-	-	-	-
20	0.675	1.575	1.125	-	-	-	-	-	-	-
25	43.200	44.800	1.350	-	-	-	-	-	-	-
30	46.400	46.400	28.800	-	-	-	-	-	-	-
35	43.200	41.600	36.800	-	-	-	-	-	-	-
40	-	-	38.400	-	-	-	-	-	-	-
45	-	-	-	-	-	-	-	-	-	-
50	-	-	-	-	-	-	-	-	-	-
55	-	-	-	-	-	-	-	-	-	-
60	-	-	-	-	-	-	-	-	-	-
65	-	-	-	-	-	-	-	-	-	-
70	-	-	-	-	-	-	-	-	-	-
75	-	-	-	-	-	-	-	-	-	-
80	-	-	-	-	-	-	-	-	-	-
85	-	-	-	-	-	-	-	-	-	-
90	-	-	-	-	-	-	-	-	-	-
95	-	-	-	-	-	-	-	-	-	-
100	-	-	-	-	-	-	-	-	-	-

Table 10: The allowable skin friction for Bored piles in Tsf (FS=2.5)

Depth	Bore Hole									
ft	BH01	BH02	BH03	BH04	BH05	BH06	BH07	BH08	BH09	BH10
5	0.094	0.099	0.068	-	-	-	-	-	-	-
10	0.120	0.077	0.052	-	-	-	-	-	-	-
15	0.077	0.062	0.062	-	-	-	-	-	-	-
20	0.048	0.101	0.077	-	-	-	-	-	-	-
25	0.140	0.146	0.090	-	-	-	-	-	-	-
30	0.151	0.151	0.094	-	-	-	-	-	-	-
35	0.140	0.135	0.120	-	-	-	-	-	-	-
40	-	-	0.125	-	-	-	-	-	-	-
45	-	-	-	-	-	-	-	-	-	-
50	-	-	-	-	-	-	-	-	-	-
55	-	-	-	-	-	-	-	-	-	-
60	-	-	-	-	-	-	-	-	-	-
65	-	-	-	-	-	-	-	-	-	-
70	-	-	-	-	-	-	-	-	-	-
75	-	-	-	-	-	-	-	-	-	-
80	-	-	-	-	-	-	-	-	-	-
85	-	-	-	-	-	-	-	-	-	-
90	-	-	-	-	-	-	-	-	-	-
95	-	-	-	-	-	-	-	-	-	-
100	-	-	-	-	-	-	-	-	-	-

Table 11: The allowable end bearing for Bored piles in Tsf (FS=3.0)

Depth	Bore Hole									
ft	BH01	BH02	BH03	BH04	BH05	BH06	BH07	BH08	BH09	BH10
5	12.960	13.680	9.360	-	-	-	-	-	-	-
10	16.560	0.506	7.200	-	-	-	-	-	-	-
15	0.506	0.405	0.405	-	-	-	-	-	-	-
20	0.304	0.709	0.506	-	-	-	-	-	-	-
25	19.440	20.160	0.608	-	-	-	-	-	-	-
30	20.880	20.880	12.960	-	-	-	-	-	-	-
35	19.440	18.720	16.560	-	-	-	-	-	-	-
40	-	-	17.280	-	-	-	-	-	-	-
45	-	-	-	-	-	-	-	-	-	-
50	-	-	-	-	-	-	-	-	-	-
55	-	-	-	-	-	-	-	-	-	-
60	-	-	-	-	-	-	-	-	-	-
65	-	-	-	-	-	-	-	-	-	-
70	-	-	-	-	-	-	-	-	-	-
75	-	-	-	-	-	-	-	-	-	-
80	-	-	-	-	-	-	-	-	-	-
85	-	-	-	-	-	-	-	-	-	-
90	-	-	-	-	-	-	-	-	-	-
95	-	-	-	-	-	-	-	-	-	-
100	-	-	-	-	-	-	-	-	-	-

CONCLUSION AND RECOMMENDATION

On the basis of analysis and information provided by the owner following recommendations are suggested for the proposed four storied building for Madrasa and Etimkhana.

Soil profile scenario

The overall soil information for the analyzed site is nearly consistent amongst boreholes. However, the soil formation exhibits notable vertical variability. Almost three distinct scenarios have been observed in boreholes. In all boreholes, the first 5-10 feet of subsoil are composed of fine to loose sand. Following that, firm clay was seen up to a distance of 20-25 ft from the EGL. At increasing depths, all boreholes are subsoil with fine grey sand. As a result of the preceding discussion, it is clear that the suggested site's overall situation is relatively consistent in nature.

Foundation options

In this situation, the foundation should be selected considering both the dimension and design load for the proposed building. Since soft clay soil with low bearing capacity is found in the upto 20 to 25 ft depth, proper ground improvement is needed before adopting any shallow foundation. Moreover, client needs to reassess the improved bearing capacity of the prepared ground after implementing soil improvement technique. However, a deep foundation (Bored pile) may be preferentially recommended to ensure the stability of the structure. The pile's size and depth should be determined in accordance with the soil's bearing capacity.

Safety provisions

Since the proposed site is composed of alternate layers of soft cohesive and granular soil, it is reasonably vulnerable to differential settlement. Therefore, it is strongly recommended to check the **settlement** of the site considering building load while designing either shallow or deep foundation. Obviously **pile load test** covering the entire project area must be carried out for confirming the design parameters of the service pile (*if pile foundation is considered*). Moreover, the earthquake vulnerability of the project area as well as the quality management of the construction work including workmanship should be taken into account for the safe design of shallow or deep foundation.

Attachments

The layout of the bore holes of the investigated site and the bore-log profiles with SPT values is shown in the Appendix. Client performed no special laboratory test for the proposed site.

Special notes

These suggestions are absolutely tentative and selection of type, depth and dimensions of foundation would be decided by the Consultant or Design Engineer. It is also to be noted that the above recommendation is restricted only to the existing soil condition of **35-40** ft as client provided.

Test Assisted By	Report Prepared By	Countersigned By
A. H. M. Humayun Kabir	**Khayrun Nahar Mitu**	**Prof. Dr. H M A Mahzuz**
Senior Technical Officer Dept. of CEE, SUST-3114	Lecturer Dept. of CEE, SUST-3114	Coordinator, CRTC Professor Dept. of CEE, SUST-3114

RECORD OF BORING AND TESTING

CLIENT : BHATERA DARUS SUNNAH HIFJUL QUARAN AND ETIMKHANA	LOCATION: Bhatera, Kulaura, Moulvibazar.	Sandy clay with silt.
PROJECT NAME : **CONST. OF 04 STORIED BUILDING**	GROUND WATER LEVEL : ---- BELOW EGL.	
BORE HOLE NO. **01**		Clay with silt & sand.
METHOD OF BORING : **WASH.**	STARTING DATE : -----	
BORING DIA : **0.33 ft**		Sand with silt & clay.
DEPTH OF BORING : **35.0 ft**	COMPLETION DATE : ----	
		Organic/Coarse sand/Gravel

Sample No.	Type of sample	Depth Below GL (ft)	Thickness (ft)	DESCRIPTION OF SOIL STRATA	SYMBOL	SPT Intervals (ft)	06 Inch	06 Inch	06 Inch	N- Value
						0	0	0	0	0
D1		5.0	10.0	White fine sand		5.0	3	5	9	14
D2		10.0				10.0	5	10	15	25
D3		15.0	10.0	Grey stiff clay		15.0	1	2	3	5
D4		20.0				20.0	1	1	2	3
D5		25.0	15.0	Grey fine sand		25.0	10	18	24	42
D6		30.0				30.0	16	23	27	50
D7		35.0				35.0	10	20	28	48

GRAPHICAL REPRESANTATION OF N- VALUES

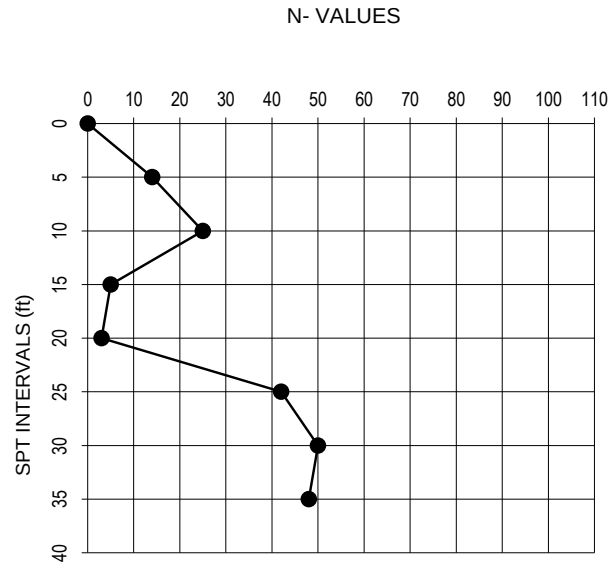

RECORD OF BORING AND TESTING

CLIENT : BHATERA DARUS SUNNAH HIFJUL QUARAN AND ETIMKHANA	LOCATION: Bhatera, Kulaura, Moulvibazar.	Sandy clay with silt.
PROJECT NAME : **CONST. OF 04 STORIED BUILDING**	GROUND WATER LEVEL : ---- BELOW EGL.	
BORE HOLE NO. **02**		Clay with silt & sand.
METHOD OF BORING : **WASH.**	STARTING DATE : -----	
BORING DIA : **0.33 ft**		Sand with silt & clay.
DEPTH OF BORING : **35.0 ft**	COMPLETION DATE : ----	
		Organic/Coarse sand/Gravel

Sample No.	Type of sample	Depth Below GL (ft)	Thickness (ft)	DESCRIPTION OF SOIL STRATA	SYMBOL	SPT Intervals (ft)	06 Inch	06 Inch	06 Inch	N- Value
						0	0	0	0	0
D1		5.0	5.0	White fine sand		5.0	4	6	10	16
D2		10.0	15.0	Grey stiff clay		10.0	1	2	3	5
D3		15.0				15.0	1	1	3	4
D4		20.0				20.0	1	3	4	7
D5		25.0	15.0	Grey fine sand		25.0	12	18	26	44
D6		30.0				30.0	16	24	26	50
D7		35.0				35.0	12	21	25	46

GRAPHICAL REPRESANTATION OF N- VALUES

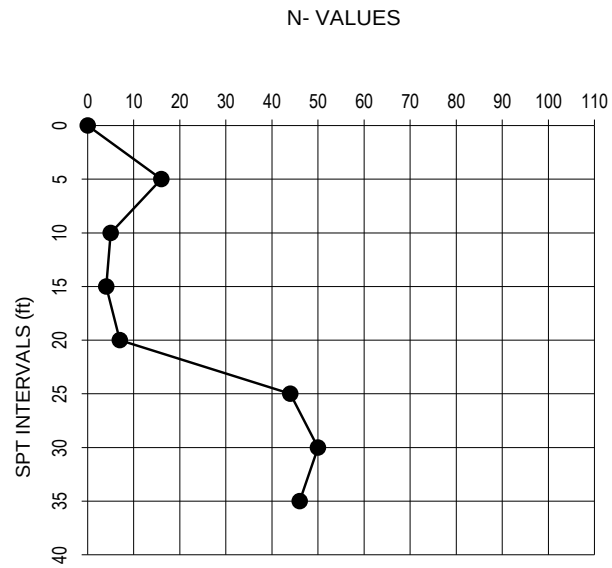

RECORD OF BORING AND TESTING

CLIENT : BHATERA DARUS SUNNAH HIFJUL QUARAN AND ETIMKHANA	LOCATION: Bhatera, Kulaura, Moulvibazar.	Sandy clay with silt.
PROJECT NAME : **CONST. OF 04 STORIED BUILDING**	GROUND WATER LEVEL : ---- BELOW EGL.	
BORE HOLE NO. **03**		Clay with silt & sand.
METHOD OF BORING : **WASH.**	STARTING DATE : -----	
BORING DIA : **0.33 ft**		Sand with silt & clay.
DEPTH OF BORING : **40.0 ft**	COMPLETION DATE : ----	
		Organic/Coarse sand/Gravel

Sample No.	Type of sample	Depth Below GL (ft)	Thickness (ft)	DESCRIPTION OF SOIL STRATA	SYMBOL	SPT Intervals (ft)	06 Inch	06 Inch	06 Inch	N- Value
						0	0	0	0	0
D1		5.0	10.0	White lose sand		5.0	2	4	5	9
D2		10.0				10.0	2	3	5	8
D3		15.0	15.0	Grey stiff clay		15.0	1	1	3	4
D4		20.0				20.0	1	2	3	5
D5		25.0				25.0	1	3	3	6
D6		30.0	15.0	Grey fine sand		30.0	3	6	18	24
D7		35.0				35.0	9	15	23	38
D8		40.0				40.0	13	18	26	44
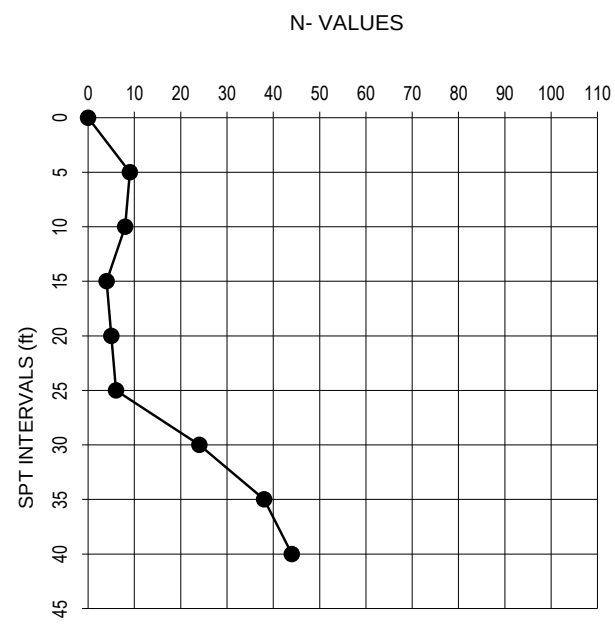
GRAPHICAL REPRESANTATION OF N- VALUES