গবেষণা, পরীক্ষণ ও কনসালটেনসি কেন্দ্র
পুর ও পরিবেশ কৌশল বিভাগ
শাহজালাল বিজ্ঞান ও প্রযুক্তি বিশ্ববিদ্যালয়
সিলেট-৩১১৪, বাংলাদেশ।
যোগাযোগঃ +৮৮ ০১৩১৮ ২১০ ২৮৬/২৮৭/২৮৮/২৮৯/২৯০
Website: www.crtc-cee-sust.com

Center for Research, Testing and Consultancy
Department of Civil and Environmental Engineering
Shahjalal University of Science and Technology
Sylhet-3114, Bangladesh.
Contact: +88 01318 210 286/ 287/ 288/ 289/ 290
Email: crtc-cee@sust.edu

Ref. no: CRTC/CEE/G20220997/S- 158

SUB-SOIL INVESTIGATION REPORT

FOR THE PROPOSED
FIVE STORIED RESIDENTIAL BUILDING

AT COMPANIGONJ, SYLHET
DAG # 1612, KHA # 714, J.L # 46, MOUJA- SHAMSHERNAGOR

CLIENT

ASHIKUR RAHMAN
S/O- M.A. AWAUL

Verification Code: Lgv6rAE8
Verify report at: crtc-cee-sust.com

CONDUCTED BY

CENTER FOR RESEARCH TESTING & CONSULTANCY
DEPARTMENT OF CIVIL & ENVIRONMENTAL ENGINEERING
SHAHJALAL UNIVERSITY OF SCIENCE & TECHNOLOGY, SYLHET

SAMPLE COLLECTED BY

AB CONSULTANTS & CONSTRUCTION LTD
MITHALI COMPLEX (1ST FLOOR), SUBIDBAZAR, SYLHET.
MOBILE: 01968747291, 07138-572044

Introduction

A reasonably accurate conception about the sub-soil parameters of any project site is an essential prerequisite for proper planning and designing the foundation of the structure so that the same after its construction would remain safe and serviceable. A detailed study on the sub-surface elements in this regard would necessary to select proper type of foundation.

Objectives

The purpose of sub-soil investigation program is to obtain the following information

1. To classify the formation of soil layers
2. To estimate the safe bearing capacities of the foundation at different soil layers
3. To suggest the safe and appropriate type of foundations.

Scope of work

Centre for research, testing and consultancy (CRTC), Department of Civil and Environmental Engineering, Shahjalal University of Science & Technology (SUST), Sylhet; execute only the laboratory tests and other computational works with the supplied disturbed and/or undisturbed samples to determine the geotechnical properties of the soil.

Table – 1: Items of the supplied samples

No	Name	Bore hole no	Depth	Quantities
01	Disturbed sample	01	0-55 ft	11
02	Disturbed sample	02	0-60 ft	12
03	Disturbed sample	03	0-55 ft	11
04	-	-	-	-
05	-	-	-	-
06	-	-	-	-
07	-	-	-	-
08	-	-	-	-
09	-	-	-	-
10	-	-	-	-

Laboratory Classifications

The disturbed soil samples, supplied by the client were thoroughly examined and classified roughly (color and type) and noted in accordance with bore hole (BH) and depth (Please see enclosed Tables).

Laboratory Works & Analysis

In addition to visual examination of the sample, Bearing Capacity of soil samples including skin friction & end bearing were calculated.

Bearing capacity for shallow foundation

The N value gives useful information with regards to consistency of cohesive soil and relative density of cohesion less soil. These relationships are given in the following Tables for cohesive and cohesion less soil, respectively.

Table 2: Relation of N-value with the Consistency and the Unconfined Compressive Strength of Cohesive Soils (after Bowles 1997)

N-values	Consistency	Unconfined Compressive Strength (q_u)	
		tsf	kPa
0-2	Very soft	0 to 0.25	0 to 25
3-5	Soft	0.25 to 0.50	25 to 50
6-9	Medium	0.50 to 1	50 to 100
10-16	Stiff	1 to 2	100 to 200
17-30	Very stiff	2 to 4	200 to 400
>30	Hard	>4	>400

Table 3: N and ϕ Relation to Relative Density for Fine Sand (after Bowles 1997)

N values	Compactness	Relative Density, Dr %	ϕ (degree)	Unit Weight (pcf)
1 – 2	Very Loose	0 – 15	26 – 28	70 – 100
3 – 6	Loose	15 – 35	28 – 30	90 – 115
7 – 15	Medium	35 – 65	30 – 34	110 – 130
16 – 30	Dense	65 – 85	33 – 38	110 – 140
>30	Very Dense	>85	>50	130 – 150

Table 4: N and ϕ Relation to Relative Density for Medium Sand (after Bowles 1997)

N values	Compactness	Relative Density, Dr %	ϕ (degree)	Unit Weight (pcf)
2 – 3	Very Loose	0 – 15	27 – 28	70 – 100
4 – 7	Loose	15 – 35	30 – 32	90 – 115
8 – 20	Medium	35 – 65	32 – 36	110 – 130
21 – 40	Dense	65 – 85	36 – 42	110 – 140

Table 5: N and ϕ Relation to Relative Density for Coarse Sand (after Bowles 1997)

N values	Compactness	Relative Density, Dr %	ϕ (degree)	Unit Weight (pcf)
3 – 6	Very Loose	0 – 15	28 – 30	70 – 100
5 – 9	Loose	15 – 35	30 – 34	90 – 115
10 – 25	Medium	35 – 65	33 – 40	110 – 130
26 – 40	Dense	65 – 85	40 – 50	110 – 140
>40	Very Dense	>85	>50	130 – 150

<u>Bearing capacity for deep foundation</u>

Foundations, preferably piles are considered to transmit heavy load from superstructure to deep and hard strata. As the formation of soil strata consists of cohesive and non-cohesive type, the evaluation criteria for the determination of skin friction and the end bearing capacities of piles also vary. Details of the evaluation are provided in the following sub-headings.

Table 6: Formula Used to Determine Bearing Capacity of Soil

Shallow Foundation	
For Cohesive Soil	
$q_a = q_u + \gamma \frac{D}{3}$ $q_a = q_u$(Common Practice)	Where, q_a=Allowable bearing capacity, q_u= Unconfined Compressive Strength, γ= Unit Weight of soil, D= Depth of footing
For Cohesion less Soil	
$q_{ult} = 30N$; $q_a = q_{ult}/FS$	q_{ult}= Ultimate bearing capacity in kPa, N = SPT Number, FS= Factor of Safety
Source: Bowles, J. E., "Physical and Geotechnical Properties of Soils", 2nd Edition	
Deep Foundation	
For Cohesive Soil	
$f_{su} = \alpha C_u$; $q_{pu} = N_c C_u$	α = Adhesion factor, f_{su} = Ultimate skin friction, C_u = Undrained Shear Strength, q_{pu} = Ultimate end bearing of pile, N_c = Bearing capacity factor for deep foundation=9
For Cohesion less Soil	
$f_{su} = N/50\ tsf$; $q_{pu} = 4N\ tsf$	f_{su} = Ultimate skin friction, q_{pu} = Ultimate end bearing of pile, N = SPT Number
Source: Rajapakse RA (2008), "Geotechnical Engineering Calculations and Rules of Thumb"	

Based on the above formula, the important parameters for foundation design have been determined and are given in **Table 7**, **Table 8, Table 9, Table 10 and Table 11** respectively.

Table 7: The allowable bearing capacity for shallow foundation in Tsf (FS=2.5)

Bore Hole No.	**Depth**	**Design N**	**Clay**						**Sand**
			Continuous			**Square(Isolated)**			
	(ft)	**-**	**D/B=0.25**	**D/B=0.5**	**D/B=1**	**D/B=0.25**	**D/B=0.5**	**D/B=1**	
BH01	**2.5-5.0**	**4**	0.418	0.439	0.479	0.493	0.533	0.580	0.450
	5.0-10	**4**	0.476	0.501	0.546	0.562	0.607	0.661	0.513
BH02	**2.5-5.0**	**3**	0.325	0.342	0.372	0.384	0.414	0.451	0.350
	5.0-10	**3**	0.396	0.416	0.454	0.468	0.505	0.550	0.427
BH03	**2.5-5.0**	**2**	0.278	0.293	0.319	0.329	0.355	0.386	0.300
	5.0-10	**3**	0.356	0.374	0.408	0.420	0.454	0.494	0.384
BH04	**2.5-5.0**	**0**	-	-	-	-	-	-	-
	5.0-10	**0**	-	-	-	-	-	-	-
BH05	**2.5-5.0**	**0**	-	-	-	-	-	-	-
	5.0-10	**0**	-	-	-	-	-	-	-
BH06	**2.5-5.0**	**0**	-	-	-	-	-	-	-
	5.0-10	**0**	-	-	-	-	-	-	-
BH07	**2.5-5.0**	**0**	-	-	-	-	-	-	-
	5.0-10	**0**	-	-	-	-	-	-	-
BH08	**2.5-5.0**	**0**	-	-	-	-	-	-	-
	5.0-10	**0**	-	-	-	-	-	-	-
BH09	**2.5-5.0**	**0**	-	-	-	-	-	-	-
	5.0-10	**0**	-	-	-	-	-	-	-
BH10	**2.5-5.0**	**0**	-	-	-	-	-	-	-
	5.0-10	**0**	-	-	-	-	-	-	-

Table 8: The allowable skin friction for Precast driven piles in Tsf (FS=2.5)

Depth	Bore Hole									
ft	BH01	BH02	BH03	BH04	BH05	BH06	BH07	BH08	BH09	BH10
5	0.049	0.096	0.049	-	-	-	-	-	-	-
10	0.025	0.025	0.025	-	-	-	-	-	-	-
15	0.156	0.096	0.096	-	-	-	-	-	-	-
20	0.096	0.118	0.096	-	-	-	-	-	-	-
25	0.096	0.138	0.138	-	-	-	-	-	-	-
30	0.174	0.156	0.174	-	-	-	-	-	-	-
35	0.138	0.096	0.174	-	-	-	-	-	-	-
40	0.156	0.174	0.196	-	-	-	-	-	-	-
45	0.196	0.239	0.138	-	-	-	-	-	-	-
50	0.200	0.136	0.160	-	-	-	-	-	-	-
55	0.192	0.168	0.176	-	-	-	-	-	-	-
60	-	0.184	-	-	-	-	-	-	-	-
65	-	-	-	-	-	-	-	-	-	-
70	-	-	-	-	-	-	-	-	-	-
75	-	-	-	-	-	-	-	-	-	-
80	-	-	-	-	-	-	-	-	-	-
85	-	-	-	-	-	-	-	-	-	-
90	-	-	-	-	-	-	-	-	-	-
95	-	-	-	-	-	-	-	-	-	-
100	-	-	-	-	-	-	-	-	-	-

Table 9: The allowable end bearing for Precast driven piles in Tsf (FS=2.5)

Depth	Bore Hole									
ft	BH01	BH02	BH03	BH04	BH05	BH06	BH07	BH08	BH09	BH10
5	0.450	0.900	0.450	-	-	-	-	-	-	-
10	0.225	0.225	0.225	-	-	-	-	-	-	-
15	1.575	0.900	0.900	-	-	-	-	-	-	-
20	0.900	1.125	0.900	-	-	-	-	-	-	-
25	0.900	1.350	1.350	-	-	-	-	-	-	-
30	1.800	1.575	1.800	-	-	-	-	-	-	-
35	1.350	0.900	1.800	-	-	-	-	-	-	-
40	1.575	1.800	2.025	-	-	-	-	-	-	-
45	2.025	2.475	1.350	-	-	-	-	-	-	-
50	40.000	27.200	32.000	-	-	-	-	-	-	-
55	38.400	33.600	35.200	-	-	-	-	-	-	-
60	-	36.800	-	-	-	-	-	-	-	-
65	-	-	-	-	-	-	-	-	-	-
70	-	-	-	-	-	-	-	-	-	-
75	-	-	-	-	-	-	-	-	-	-
80	-	-	-	-	-	-	-	-	-	-
85	-	-	-	-	-	-	-	-	-	-
90	-	-	-	-	-	-	-	-	-	-
95	-	-	-	-	-	-	-	-	-	-
100	-	-	-	-	-	-	-	-	-	-

Table 10: The allowable skin friction for Bored piles in Tsf (FS=2.5)

Depth	Bore Hole									
ft	BH01	BH02	BH03	BH04	BH05	BH06	BH07	BH08	BH09	BH10
5	0.032	0.062	0.032	-	-	-	-	-	-	-
10	0.016	0.016	0.016	-	-	-	-	-	-	-
15	0.101	0.062	0.062	-	-	-	-	-	-	-
20	0.062	0.077	0.062	-	-	-	-	-	-	-
25	0.062	0.090	0.090	-	-	-	-	-	-	-
30	0.113	0.101	0.113	-	-	-	-	-	-	-
35	0.090	0.062	0.113	-	-	-	-	-	-	-
40	0.101	0.113	0.127	-	-	-	-	-	-	-
45	0.127	0.156	0.090	-	-	-	-	-	-	-
50	0.130	0.088	0.104	-	-	-	-	-	-	-
55	0.125	0.109	0.114	-	-	-	-	-	-	-
60	-	0.120	-	-	-	-	-	-	-	-
65	-	-	-	-	-	-	-	-	-	-
70	-	-	-	-	-	-	-	-	-	-
75	-	-	-	-	-	-	-	-	-	-
80	-	-	-	-	-	-	-	-	-	-
85	-	-	-	-	-	-	-	-	-	-
90	-	-	-	-	-	-	-	-	-	-
95	-	-	-	-	-	-	-	-	-	-
100	-	-	-	-	-	-	-	-	-	-

Table 11: The allowable end bearing for Bored piles in Tsf (FS=3.0)

Depth	Bore Hole									
ft	BH01	BH02	BH03	BH04	BH05	BH06	BH07	BH08	BH09	BH10
5	0.203	0.405	0.203	-	-	-	-	-	-	-
10	0.101	0.101	0.101	-	-	-	-	-	-	-
15	0.709	0.405	0.405	-	-	-	-	-	-	-
20	0.405	0.506	0.405	-	-	-	-	-	-	-
25	0.405	0.608	0.608	-	-	-	-	-	-	-
30	0.810	0.709	0.810	-	-	-	-	-	-	-
35	0.608	0.405	0.810	-	-	-	-	-	-	-
40	0.709	0.810	0.911	-	-	-	-	-	-	-
45	0.911	1.114	0.608	-	-	-	-	-	-	-
50	18.000	12.240	14.400	-	-	-	-	-	-	-
55	17.280	15.120	15.840	-	-	-	-	-	-	-
60	-	16.560	-	-	-	-	-	-	-	-
65	-	-	-	-	-	-	-	-	-	-
70	-	-	-	-	-	-	-	-	-	-
75	-	-	-	-	-	-	-	-	-	-
80	-	-	-	-	-	-	-	-	-	-
85	-	-	-	-	-	-	-	-	-	-
90	-	-	-	-	-	-	-	-	-	-
95	-	-	-	-	-	-	-	-	-	-
100	-	-	-	-	-	-	-	-	-	-

CONCLUSION AND RECOMMENDATION

On the basis of analysis and information provided by the owner following recommendations are suggested for the proposed five storied residential building.

Soil profile scenario

Overall soil information of the investigated site is quite regular in between the boreholes and also remarkable vertical consistency exists in the soil formation. Nearly two types of scenarios have been observed among the boreholes. For all the boreholes, grey soft clay with low bearing capacity exists roughly up to top 45 ft from EGL followed by a grey fine sand layer with silt and clay after that depth as client provided. From the above discussion it is very clear that the whole scenario of the proposed site is quite invariable in nature.

Foundation options

In this situation, the foundation should be selected considering both the dimension and design load for the proposed building. Since soft clay soil with low bearing capacity is found in different layer of soil formation up to 45 ft depth, proper ground improvement is needed before adopting any shallow foundation. In this regard, the whole site may be densified by sand/wick drain method. The number, size and depth of the sand/wick drain should be selected by the foundation/design engineer. considering both pressure influence zone and degree of densification required to minimize uneven settlement. Although, bearing capacity values for designing shallow foundation can be found from the attached table (7) in the report which is based on existing soil condition; it is necessary to reinvestigate the modified bearing capacity of the densified stratum after ground improvement. Moreover, deep foundation (Bored/precast pile) may be selected to ensure the stability of the structure and to overcome the ground improvement complication. For designing any suitable deep foundation, the necessary data for skin friction and end bearing can be found from the attached table (8, 9, 10, 11) in the report which is based on existing soil condition.

Safety provisions

It is strongly recommended to check the **settlement** of the site considering building load while designing either shallow or deep foundation. Obviously **pile load test** covering the entire project area must be carried out for confirming the design parameters of the service pile (*if pile foundation is considered*). Moreover, the earthquake vulnerability of the project area as well as the quality management of the construction work including workmanship should be taken into account for the safe design of shallow or deep foundation.

Attachments

The layout of the bore holes of the investigated site and the bore-log profiles with SPT values is shown in the Appendix. Client performed no special laboratory test for the proposed site.

Special notes

These suggestions are absolutely tentative and selection of type, depth and dimensions of foundation would be decided by the Consultant or Engineer. It should be noted that the above recommendation is restricted to the existing soil condition of **55-60** ft as client provided.

Test Assisted By	Report Prepared By	Countersigned By
A.H.M.Humayun Kabir	**Sabrin Ara**	**Prof. HMA Mahzuz**
Senior Technical Officer Dept. of CEE, SUST-3114	Assistant Professor Dept. of CEE, SUST-3114	Coordinator, CRTC Dept. of CEE, SUST, Sylhet-3114

RECORD OF BORING AND TESTING

CLIENT : ASHIKUR RAHMAN	LOCATION: Companigonj, Sylhet.		Sandy clay with silt.
PROJECT NAME : **CONST.OF 05 STORIED RESIDENTIAL BUILDING.**	GROUND WATER LEVEL : 3'-0" BELOW EGL.		
BORE HOLE NO. **01**			Clay with silt & sand.
METHOD OF BORING : **WASH.**	STARTING DATE : 13/08/2022		
BORING DIA : **0.33 ft**			Sand with silt & clay.
DEPTH OF BORING : 55.0 ft	COMPLETION DATE : 13/08/2022		
			Organic/Gravel

Sample No.	Type of sample	Depth Below GL(ft)	Thickness(ft)	DESCRIPTION OF SOIL STRATA	SYMBOL	SPT Intervals(ft)	06 Inch	06 Inch	06 Inch	N- Value
						0	0	0	0	0
D1		5.0	45.0	Grey soft clay		5.0	1	1	1	2
D2		10.0				10.0	1	0	1	1
D3		15.0				15.0	2	3	4	7
D4		20.0				20.0	2	2	2	4
D5		25.0				25.0	2	2	2	4
D6		30.0				30.0	3	4	4	8
D7		35.0				35.0	2	3	3	6
D8		40.0				40.0	3	4	3	7
D9		45.0				45.0	3	4	5	9
D10		50.0	10.0	Grey fine sand wiyh silt & clay		50.0	8	22	28	50
D11		55.0				55.0	15	23	27	50

GRAPHICAL REPRESANTATION OF N- VALUES

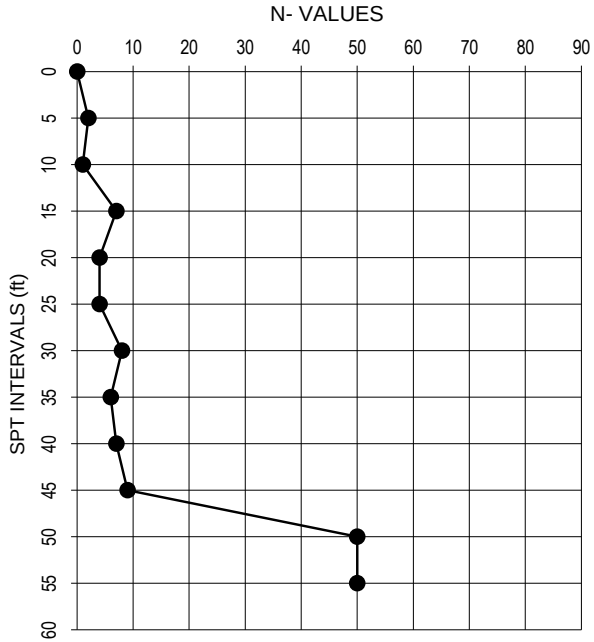

RECORD OF BORING AND TESTING

CLIENT : ASHIKUR RAHMAN	LOCATION: Companigonj, Sylhet.		Sandy clay with silt.
PROJECT NAME : **CONST.OF 05 STORIED RESIDENTIAL BUILDING.**	GROUND WATER LEVEL : 3'-0" BELOW EGL.		
BORE HOLE NO. **02**			Clay with silt & sand.
METHOD OF BORING : **WASH.**	STARTING DATE : 13/08/2022		
BORING DIA : **0.33 ft**			Sand with silt & clay.
DEPTH OF BORING : 60.0 ft	COMPLETION DATE : 13/08/2022		
			Organic/Gravel

Sample No.	Type of sample	Depth Below GL(ft)	Thickness(ft)	DESCRIPTION OF SOIL STRATA	SYMBOL	SPT Intervals(ft)	06 Inch	06 Inch	06 Inch	N- Value
						0	0	0	0	0
D1		5.0	45.0	Grey soft clay		5.0	1	2	2	4
D2		10.0				10.0	1	0	1	1
D3		15.0				15.0	2	2	2	4
D4		20.0				20.0	2	2	3	5
D5		25.0				25.0	2	3	3	6
D6		30.0				30.0	2	3	4	7
D7		35.0				35.0	2	2	2	4
D8		40.0				40.0	3	4	4	8
D9		45.0				45.0	4	5	6	11
D10		50.0	15.0	Grey fine sand wiyh silt & clay		50.0	7	12	15	27
D11		55.0				55.0	13	17	23	40
D12		60.0				60.0	16	23	27	50

GRAPHICAL REPRESANTATION OF N- VALUES

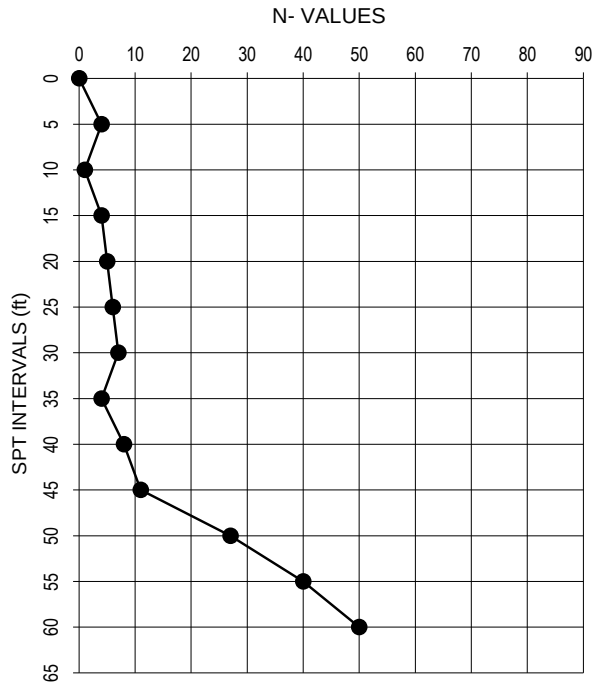

RECORD OF BORING AND TESTING

CLIENT : ASHIKUR RAHMAN	LOCATION: Companigonj, Sylhet.		Sandy clay with silt.
PROJECT NAME : **CONST.OF 05 STORIED RESIDENTIAL BUILDING.**	GROUND WATER LEVEL : 3'-0" BELOW EGL.		
BORE HOLE NO. **03**			Clay with silt & sand.
METHOD OF BORING : **WASH.**	STARTING DATE : 13/08/2022		
BORING DIA : **0.33 ft**			Sand with silt & clay.
DEPTH OF BORING : 55.0 ft	COMPLETION DATE : 13/08/2022		
			Organic/Gravel

Sample No.	Type of sample	Depth Below GL(ft)	Thickness(ft)	DESCRIPTION OF SOIL STRATA	SYMBOL	SPT Intervals(ft)	06 Inch	06 Inch	06 Inch	N- Value
						0	0	0	0	0
D1		5.0	45.0	Grey soft clay		5.0	1	1	1	2
D2		10.0				10.0	1	0	1	1
D3		15.0				15.0	1	2	2	4
D4		20.0				20.0	2	2	2	4
D5		25.0				25.0	2	2	4	6
D6		30.0				30.0	3	3	5	8
D7		35.0				35.0	4	4	4	8
D8		40.0				40.0	4	4	5	9
D9		45.0				45.0	2	3	3	6
D10		50.0	10.0	Grey fine sand wiyh silt & clay		50.0	10	15	22	37
D11		55.0				55.0	13	18	27	45
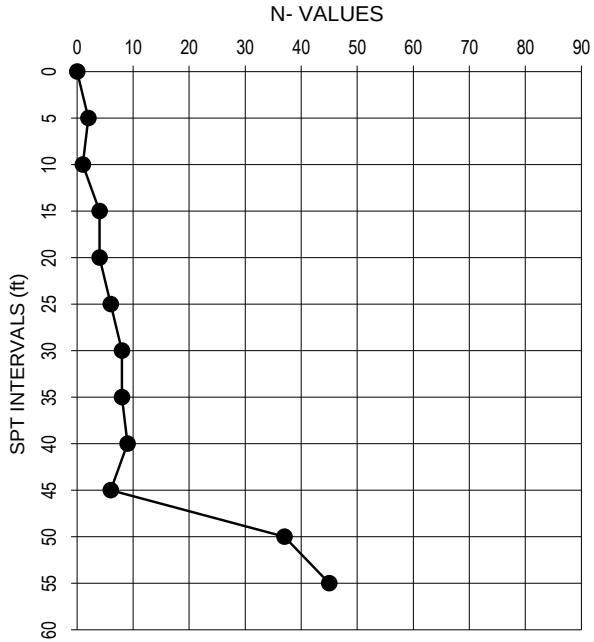
GRAPHICAL REPRESANTATION OF N- VALUES